Evaluating multi-season occupancy models with autocorrelation fitted to heterogeneous datasets

André Luís Luza[1], Didier Alard[1,2], and Frédéric Barraquand[3]

[1]UMR Biodiversité Gènes et Communautés, University of Bordeaux, INRAE, Pessac, France
[2]US Fauna, University of Bordeaux, Pessac, France
[3]Institute of Mathematics of Bordeaux, University of Bordeaux, CNRS, Bordeaux INP, Talence, France

* Correspondence to andre-luis.luza@u-bordeaux.fr, frederic.barraquand@u-bordeaux.fr

Supporting Information E - Testing Occupancy models with spatially uncorrelated (unstructured) random effects

Below we describe the multi-season site occupancy model of Outhwaite *et al.* (2018), which we used in our sensitivity analyses. This model represents an improvement from the occupancy model used in Isaac *et al.* (2014) in the sense that it uses a random walk (normally distributed) prior for the temporal random effect parameter b_t, thus enabling the sharing of occupancy information between consecutive years to estimate occupancy trends. The model can be described in the following manner (respecting the hierarchical structure we used in our main text, and using parameter notation as Outhwaite *et al.* (2018)).

The first part of the model is an occupancy state process, where the latent occupancy state z_{it} of a single species at $i = 1, ..., I$ sites and $t = 1, ..., T$ primary occasions is modeled. The state z_{it} is drawn from a Bernoulli distribution depending on the probability of occupancy of the site ψ_{it}. The ψ_{it} is modeled in function of covariates varying over sites and / or primary occasions X_{it}, and $\boldsymbol{\beta}$ is a vector of regression coefficients including the intercept and slope (eq. 1):

$$\begin{aligned} z_{it}|\psi_{it} &\sim \mathcal{B}(\psi_{it}), \\ \text{logit}(\psi_{it}) &= X_{it}^T\boldsymbol{\beta} + u_i + b_t \end{aligned} \tag{1}$$

The original model formulation has no covariates. Some formulations include one intercept coming from a Beta ($\mathcal{B}e$) distribution. We also changed the formulation of the spatially uncorrelated random effects u_i , which here were defined through two Normal distributions with $\mu = 0$ and variance σ_u^2 for each site i to ensure the identifiability of the model intercept. Thus we used eq. 2:

$$u_i \sim \begin{cases} \mathcal{N}(0, 10^4) & \text{for } i = 1 \\ \mathcal{N}(u_i, \tau_u) & \text{for } i > 1 \end{cases} \tag{2}$$

where τ_u is precision parameter calculated as $1/\sigma_u^2$. This parameter controls the variance of occupancy probability across sites. The prior for u_1 is Normal with $\mu_b = 0$ and variance 10^4, and priors for successive sites are determined via the second term in eq. 2. The prior for σ_u^2 was $\sigma_u \sim U(0, 5)$.

The temporal random effect b_t follows a random walk model defined in eq. 3:

$$b_t \sim \begin{cases} \mathcal{N}(\mu_b, 10^3) & \text{for } t = 1 \\ \mathcal{N}(b_{t-1}, \tau_b) & \text{for } t > 1 \end{cases} \tag{3}$$

where τ_b is precision parameter calculated as $1/\sigma_b^2$, this parameter controls the variance of species occupancy probability in time t relative to the previous time $t-1$. The prior for b_1 came from a Normal distribution with $\mu_b = 0$ and variance 10^3, and priors for successive time points are determined via the second term in eq. 3. The prior for σ_b^2 was $\sigma_b \sim U(0, 5)$.

The detection model of Outhwaite *et al.* (2018) includes the year effect in the model intercept. Since we want something similar to Doser & Stoudt (2024)model, the detection model we implemented eq. 4:

$$\begin{aligned} y_{itj} | z_{it} &\sim \mathcal{B}(z_{it} \times p_{itj}), \\ \text{logit}(p_{itj}) &= v_{itj}^T \boldsymbol{\alpha} \end{aligned} \tag{4}$$

where $\boldsymbol{\alpha}$ is a vector of regression coefficients, including the intercept and slopes that represent the effect of the covariates v_{itj} on p_{itj} (eq. 4). The species encounter

history y_{itj} is then conditionally related to the latent occupancy z_{it}, meaning that for a truly occupied site and primary occasion $z_{it} = 1$, the species will be detected in one individual secondary occasion with probability p_j (eq. 4). If unoccupied $z_{it} = 0$ then the species can not be detected.

Prior choice has a large influence on the performance of the random walk occupancy model (see supplementary material in Outhwaite *et al.* (2018)). The original model formulation had $\beta_0 \sim \mathcal{B}e(\alpha, \beta)$, with α and β controlling the shape of the distribution (not to be confused with model coefficients presented above). In our analyzes, we followed the authors and set both parameters to $\alpha, \beta = 2$. The same prior was set to the detection intercept α_0. The inverse logit function was then applied to this quantity. Priors for regression slopes (from both occupancy and detection models) were taken from a Normal distribution with average and precision as $\mathcal{N}(0, 0.001)$.

This model was fitted to 42 simulated data sets under the design of study 2 - scenario 1 (Poisson sampling design, effect of latitude L_i on occupancy, effect of observation-level covariate v_{itj} on detection). The model was written in BUGS language and analyzed in JAGS through the R package jagsUI (Kellner, 2024). Parameter estimates using the real data set was done with three parallel MCMC chains of 10,000 iterations each, burn-in of 5,000 iterations, and thinning each 10 iterations (yielding 1,500 posterior distribution draws in total). It took 18 days to run the model for 42 data sets x 16 autocorrelation scenarios per data set using a Dell Inc.® Precision Tower 3620 with processor Intel(R)Xeon(R)E3-1240 v5x8 with 32GB RAM and 8 cores.

The results for this sensitivity analysis are shown below (Figs. E.1 to E.3) and discussed in the main text.

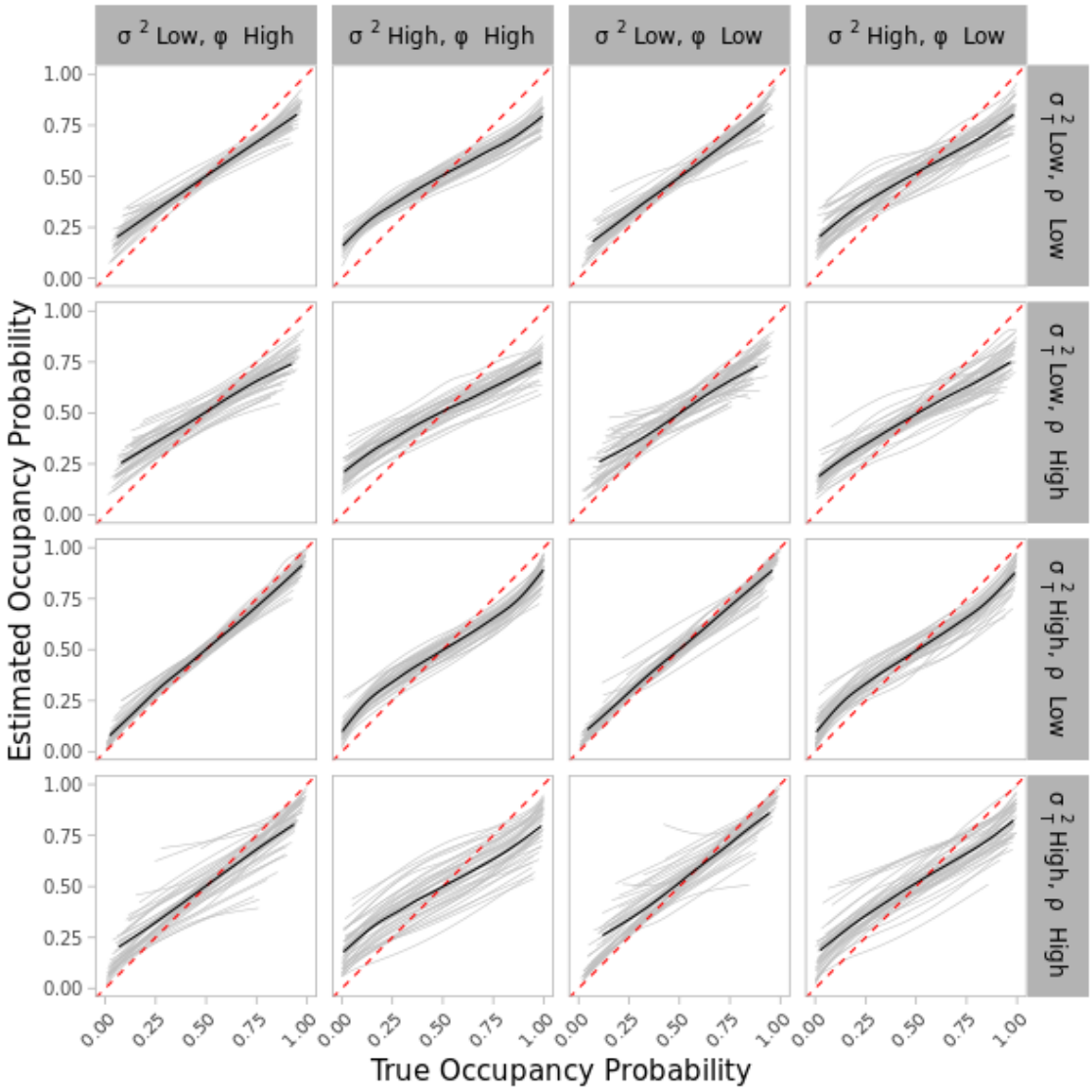

Figure E.1: Relationship between the true site occupancy probability ψ_{it} (x-axis) and the estimated site occupancy probability $\hat{\psi}_{it}$ (y-axis). Spatial and temporal autocorrelation sub scenarios are represented along columns and rows, respectively, with the following levels: high $\phi = 15$, low $\phi = 3.75$, high $\rho = 0.9$, low $\rho = 0.5$, high $\sigma_T^2 = 1.5$, low $\sigma_T^2 = 0.3$, high $\sigma^2 = 1.5$, low $\sigma^2 = 0.3$. These simulations used data from study 1-scenario 1. Each gray line represents the locally estimated scatter plot smoothing (LOESS) relationship between ψ_{it} and $\hat{\psi}_{it}$ per simulated data set. The black line depicts the averaged relationship across the 42 simulated data sets, and the red dashed line depicts an 1:1 relationship.

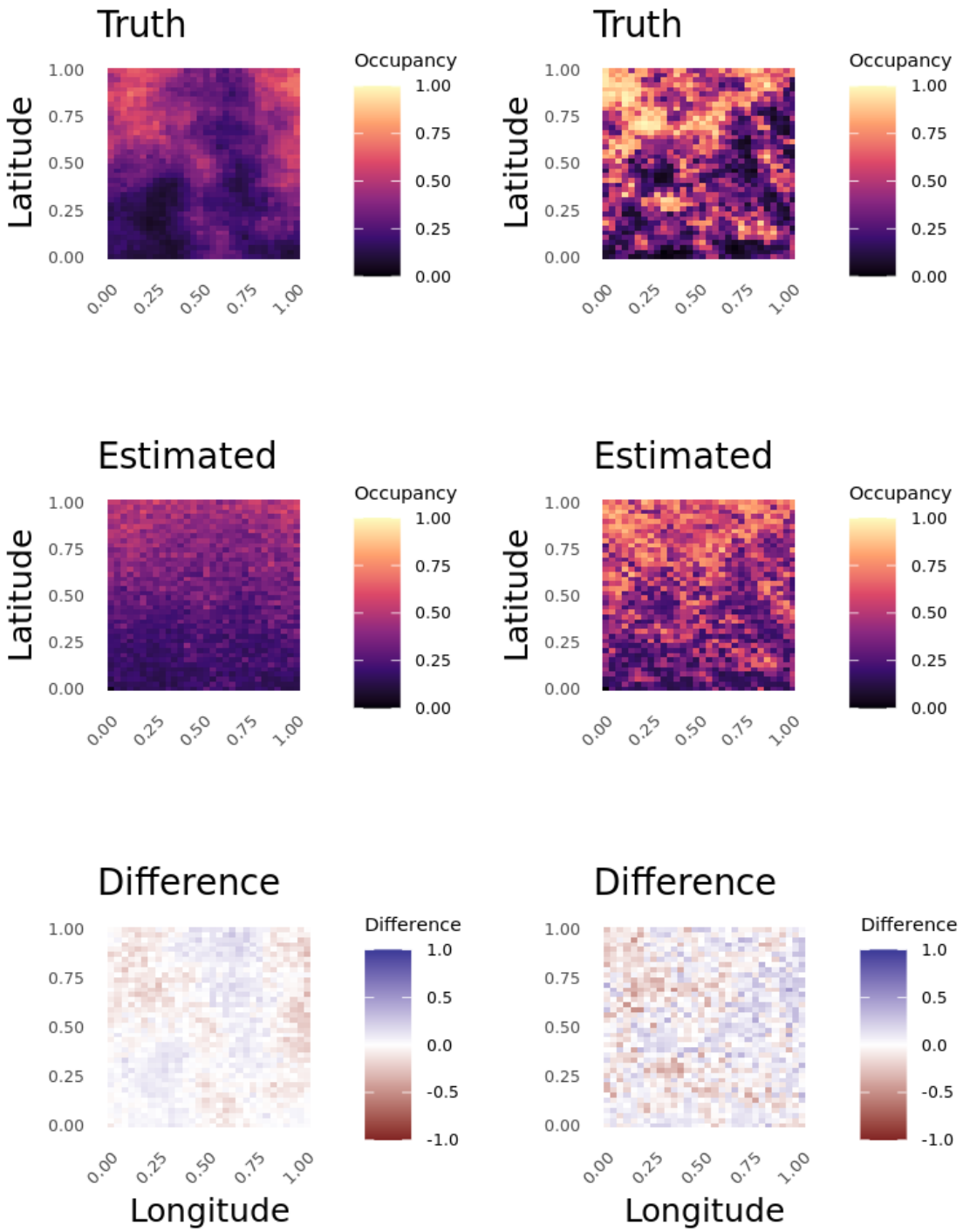

Figure E.2: Spatial map of true site occupancy probability ψ_{it} (top), estimated site occupancy probability $\hat{\psi}_{it}$ (middle), and the difference between them (bottom) across scenarios of high (left) and low spatial and temporal autocorrelation (right). Estimates of $\hat{\psi}_{it}$ were produced by the model with spatially uncorrelated site random effects. Positive differences (in blue) indicate overestimation relative to the true occupancy, whereas negative differences (in red) indicate underestimate relative to the true occupancy. Results for the first simulated data set and the first primary period of estimation ($t = 1$). Data shown in the left plot were simulated with $\phi = 3.75$, $\sigma^2 = 0.3$, $\rho = 0.5$, $\sigma_T^2 = 0.3$ (strong spatial autocorrelation and weak temporal autocorrelation), whereas in the right the values of these parameters were $\phi = 15$, $\sigma^2 = 1.5$, $\rho = 0.9$, $\sigma_T^2 = 1.5$ (weak spatial autocorrelation and strong temporal autocorrelation).

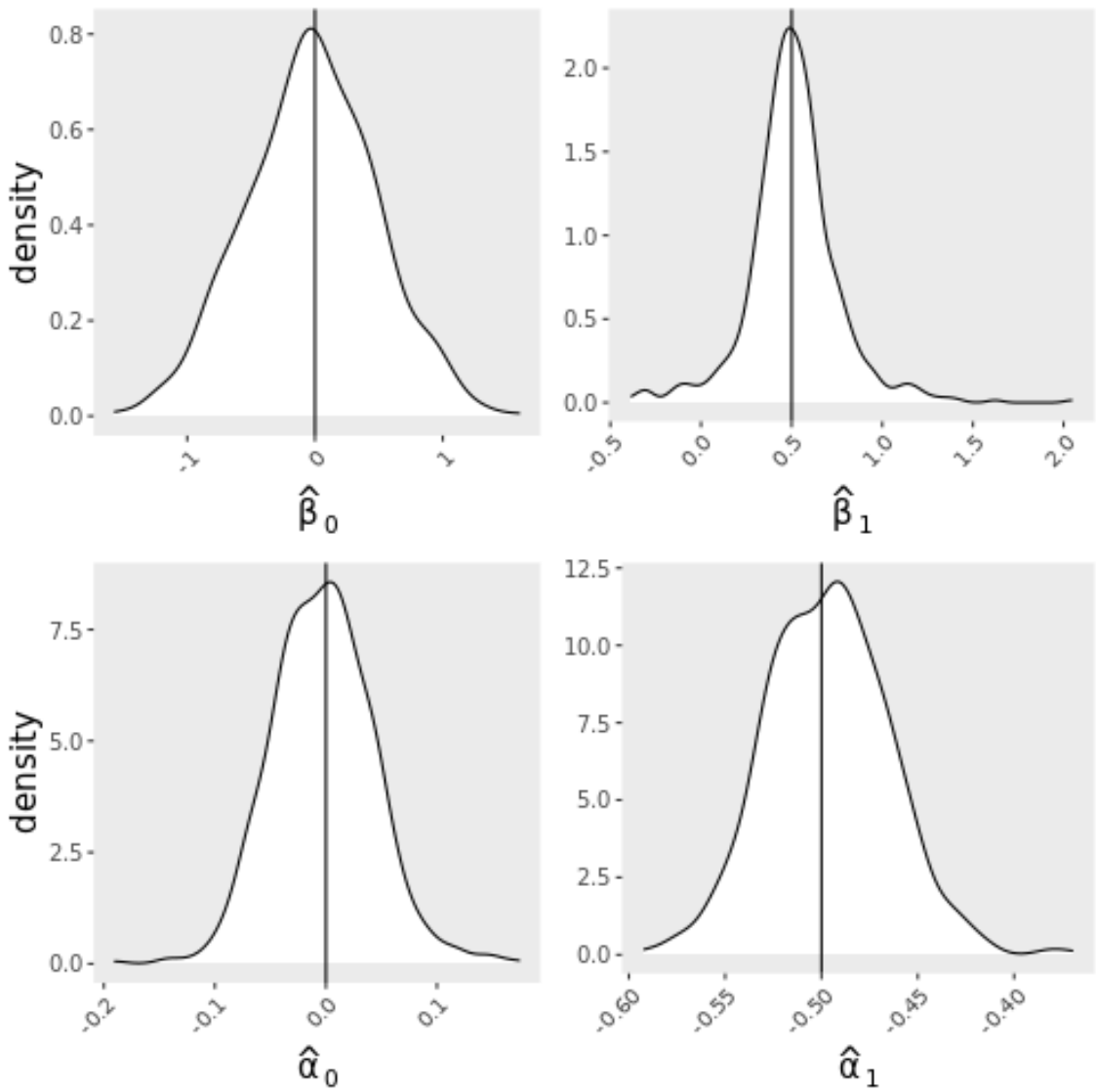

Figure E.3: Density plots showing the model coefficients estimated by the model with spatially uncorrelated random effects. The black vertical line depicts the truth of each parameter. Spatial and temporal autocorrelation sub scenarios are represented along columns and rows, respectively. The density was created using the output of the analysis of 42 data sets simulated with $\phi = 15$, $\sigma^2 = 1.5$, $\rho = 0.9$, $\sigma_T^2 = 1.5$.

References

Doser, J.W. & Stoudt, S. (2024). "Fractional replication" in single-visit multi-season occupancy models: Impacts of spatiotemporal autocorrelation on identifiability. *Methods in Ecology and Evolution*, 15, 358–372.

Isaac, N.J.B., Van Strien, A.J., August, T.A., De Zeeuw, M.P. & Roy, D.B. (2014). Statistics for citizen science: Extracting signals of change from noisy ecological data. *Methods in Ecology and Evolution*, 5, 1052–1060.

Kellner, K. (2024). *jagsUI: A Wrapper Around 'rjags' to Streamline 'JAGS' Analyses*. R package version 1.6.2.

Outhwaite, C.L., Chandler, R.E., Powney, G.D., Collen, B., Gregory, R.D. & Isaac, N.J. (2018). Prior specification in bayesian occupancy modelling improves analysis of species occurrence data. *Ecological Indicators*, 93, 333–343.